VIA Metropolitan Transit

Late Night Service

10:30p.m. to 2:00a.m.

This diagram is licensed under the **Creative Commons Attribution-ShareAlike 4.0 International** license *(CC BY-SA 4.0)*.

The source project file can be found at *https://junimeek.net/transit/dev-resources*

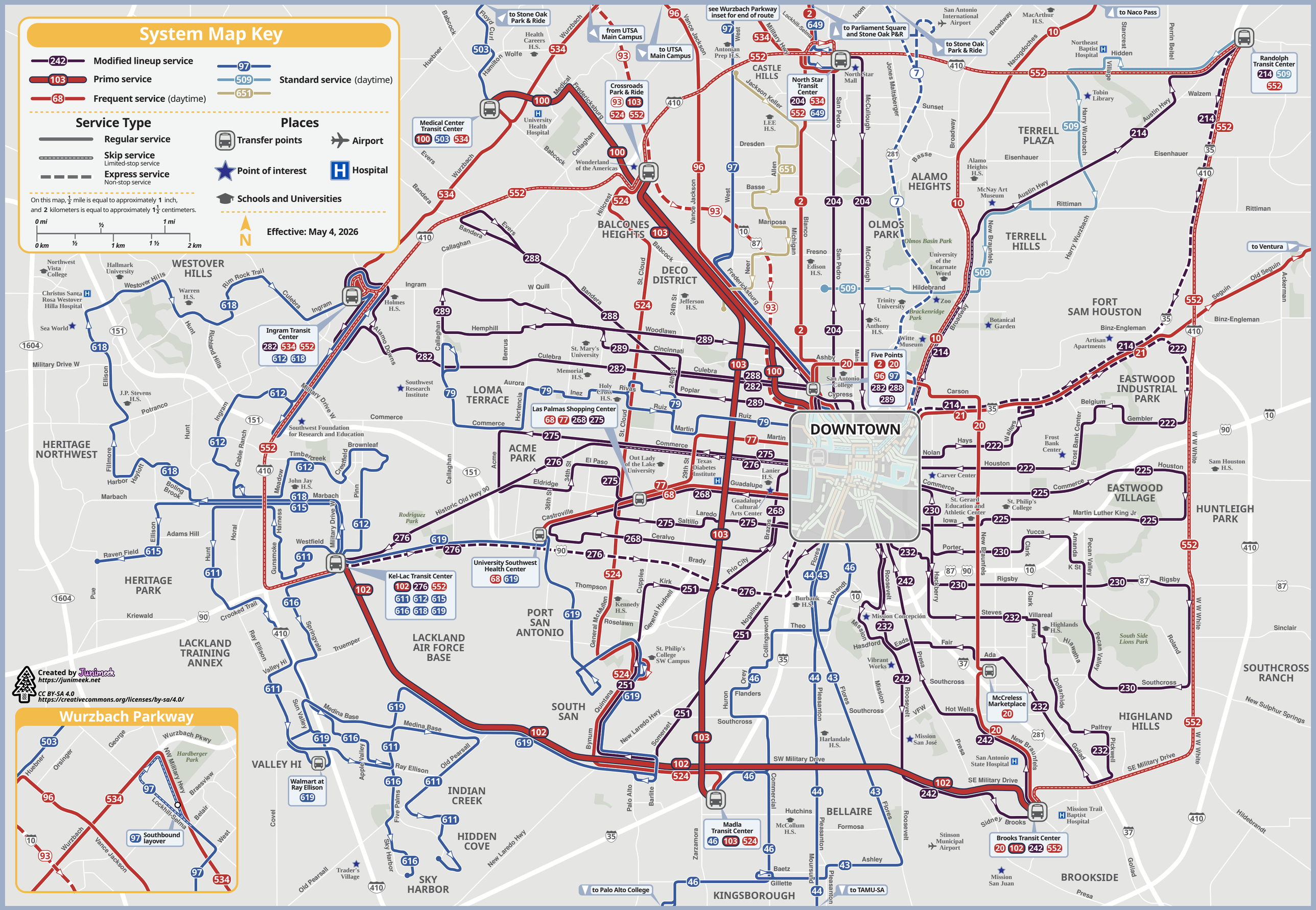

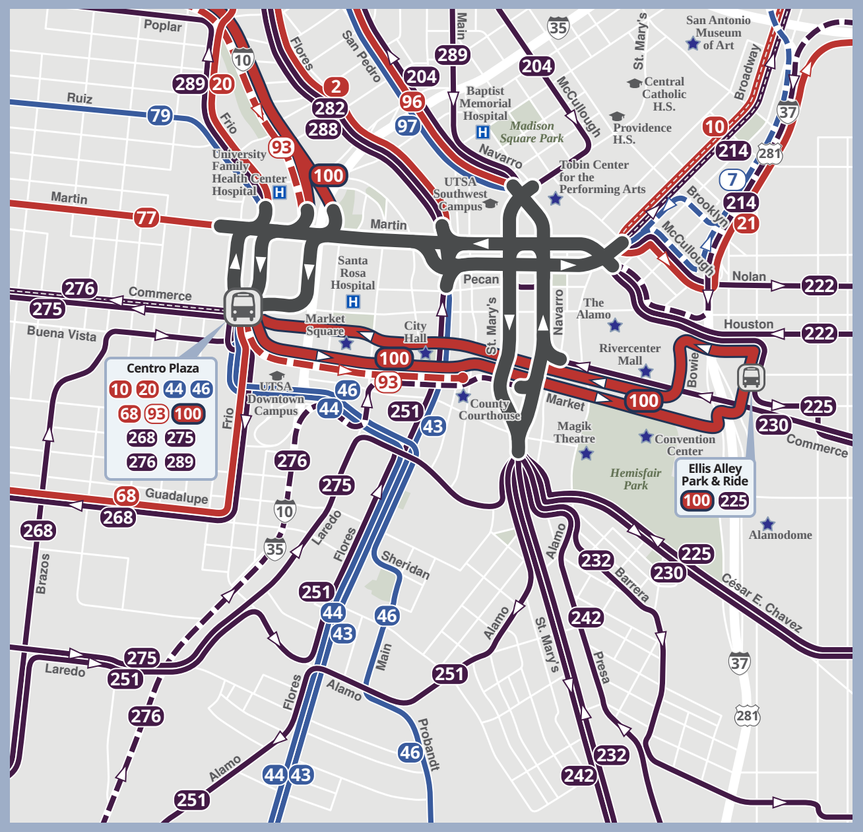

Route Guide — Modified Lineup routes

LINE	ROUTE	LINE	ROUTE
204	4 San Pedro 5 McCullough	251	51 Nogalitos 62 Kirk
214	14 Austin Highway 17 Randolph Skip	268	68 Guadalupe 66 Ceralvo
222	22 Hays 24 East Houston	275	75 West Commerce 67 Laredo
225	25 East Commerce 26 Martin Luther King	276	76 West Commerce 64 Kel-Lac* Skip
230	30 Rigsby 28 Porter	282	82 Culebra
232	32 Steves 34 South St. Mary's	288	88 Bandera / Evers
242	42 Roosevelt 36 South Presa	289	89 Poplar 90 Woodlawn

*Kel-Lac Transit Center

These routes are scheduled to depart from Kel-Lac Transit Center at 11:03pm, just after Route 276 [COMMERCE / KLAC TRANSIT CTR. Lineup] is scheduled to arrive.

611 612 615 616 618 619

All lineup routes, including those that serve Express daytime routes, are classified as regular bus service. VIA's regular bus fare is required to ride lineup service. Customers can also use a valid transfer slip or a monthly, daily, 7-day or Semester bus pass.

Route Guide — Daytime routes with late-night departures

LINE	ROUTE	
2	Blanco Frequent	
7	US-281 Stone Oak Express	*Weekdays only*
10	Nacogdoches Skip	
20	New Braunfels Frequent	
21	Kirby / Ventura Frequent	*Weekdays only*
43	South Flores	
44	Pleasanton	
46	Commercial	
68	Guadalupe Frequent	
77	Martin / Las Palmas Frequent	
79	Ruiz / Culebra Park	
93	IH-10 Crossroads / Roadrunner Express	
96	Vance Jackson Frequent	
97	West Avenue	
100	Prímo Fredericksburg Road	
102	Prímo Military	
103	Prímo Zarzamora	
503	Huebner Crosstown	
509	Hildebrand	
524	General McMullen Frequent	
534	Wurzbach Frequent	
552	Loop 410 / W.W. White Skip	
649	North Star / North Blanco / Stone Oak	
651	Deco District / Castle Hills	

VIA METROPOLITAN TRANSIT**

LATE NIGHT SYSTEM MAP

SAN ANTONIO AREA

EFFECTIVE: 5-4-2026

Downtown Lineup Locations

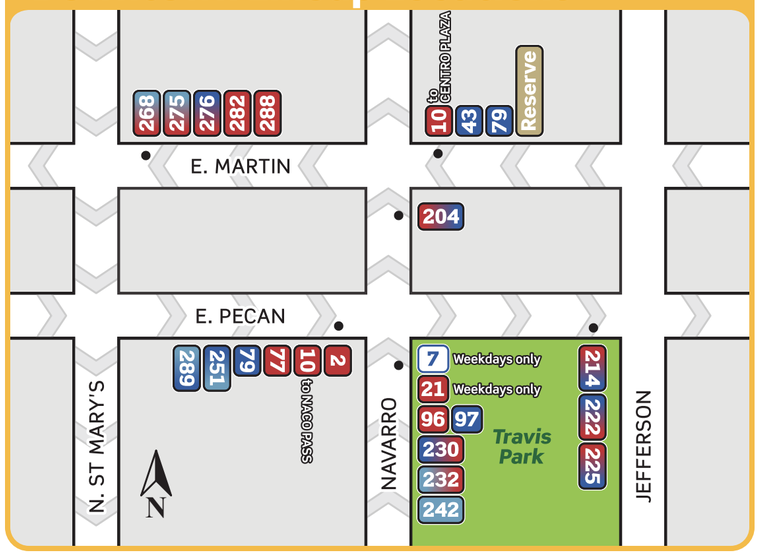

Every night at 10:30 p.m., 11:30 p.m. and 12:30 a.m., buses from many routes line up together within a few blocks of each other in the downtown area. Once all the buses have arrived and riders have made their transfers, the buses depart.

These outgoing buses travel along a fixed route, turn around, and then return to the 11:30 p.m. lineup, or, in the case of the 12:30 a.m. lineup buses, the VIA garage.

Because these buses need to serve as many riders as possible while still returning downtown or to the VIA garage by 11:30 p.m. or 12:30 a.m., routing is modified or combined with other routes.

For the latest information on discounts, routes, detours, and news, visit:

VIAINFO.NET

or call VIA's GoLine at **(210) 362-2020**

This is an unofficial map created by Junimeek, who is not affiliated with VIA Metropolitan Transit. When VIA announces service changes that affect the late night system, an updated map can be found at **junimeek.net/transit/via/lineup